GeoPIXE Recent News

Version 8.9t

Cluster mode logging optional

Previously, background processes launched in "Cluster" parallel processing mode would generate a log file each (saved to your home .geopixe/ directory). These need to be deleted from time to time *en masse*. This is now optional and disabled by default. To enable logging (if parallel processing appears to be failing) add a line "cluster log 1" to your 'geopixe.conf' file in your home .geopixe directory.

Version 8.9s

GUI Layout on hires screens

All windows now adapt to changes in default system font affecting text in widget programs. Hence, system scaling or changes to selected font sizes should display correctly.

Version 8.9r

Apple Silicon MAC Support

All low-level Fortran libraries (now v57) have been compiled for *Apple Silicon* devices, such as the M1, M2, M3, M4 and M5 processors using ARM processors. They also support x86 64 bit Apple systems as well as 64 bit and 32 bit Linux x86 systems and Windows x86 systems. There is no support for 32 bit Apple systems.

Display issues remain on stock MAC systems, which require an upgrade of the *XQuartx* display system.

Version 8.9n

FalconX (Merge) device

Fixed extraction of spectra to correctly process the filenames, which include "_nn" for detector number in an array as well as the trailing "_n" for sequence number of the list mode data sequence. This fixes potential loss of data into extracted spectra, which may also affect the *Standards Wizard* processing.

Black periodic table "elements" under Linux

A strange behaviour under Linux leads to some element tiles in periodic tables of elements (*Identify* and *Xray spectrum fit* windows) going black after some hours, like the system's "expose" updates get lazy and stop arriving. A fix forces these to be done, which should fix this Linux only behaviour.

Version 8.9j

Zoom and Pan on Image

Use ***Control-Left mouse*** to move the image. Control-Left click on a feature and drag to where you'd like that feature to be moved to. Nothing is drawn. On release the image is moved. For example, control-left click and hold on a feature and drag it and release at the centre of the window.

Use ***Control-Scroll wheel*** to increment the Zoom level in and out. The display zooms around the current centre.

Refine pixel selections for a selective Traverse

If you would like to look at the variation of a particular element constrained to just a certain mineral phase, for example, ignoring other phases along a *Traverse* line, then this is for you.

Look at the worked example dataset (file "Demo/CSIRO/c4-x/c4-x-3-b.dai"), which has a solid-solution series in Fe versus Cu sulphides varying from near pyrite (FeS_2) through to near pure villamaninite (CuS_2), as well as some enargite (Cu_3AsS_4).

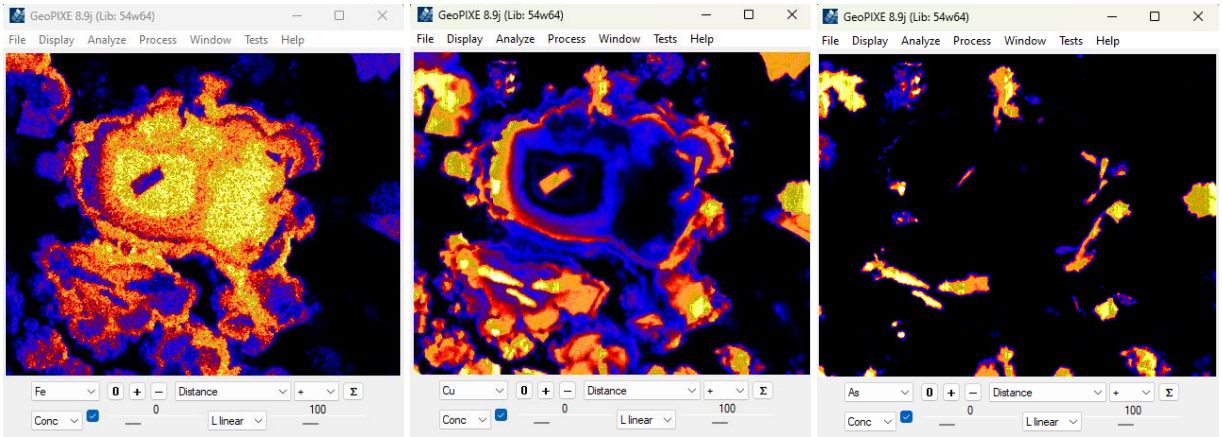

We want to look at the variation of Cu and Fe across the solid-solution members and ignore the enargite. A normal traverse looks like this …



which includes some high-Cu,As enargite regions …

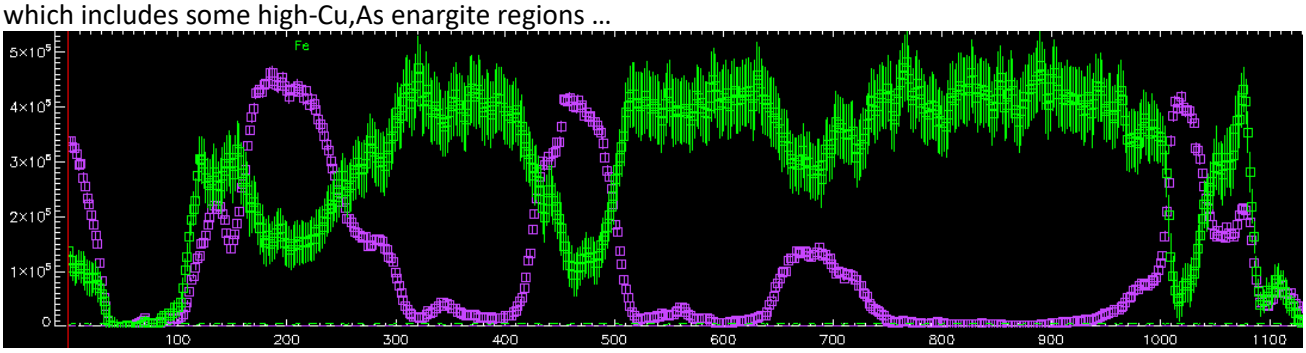

Fe (green), Cu (violet)

Constraining our pixels to exclude the enargite, using an *Association* window plot of Cu versus As, we can avoid the enargite areas …

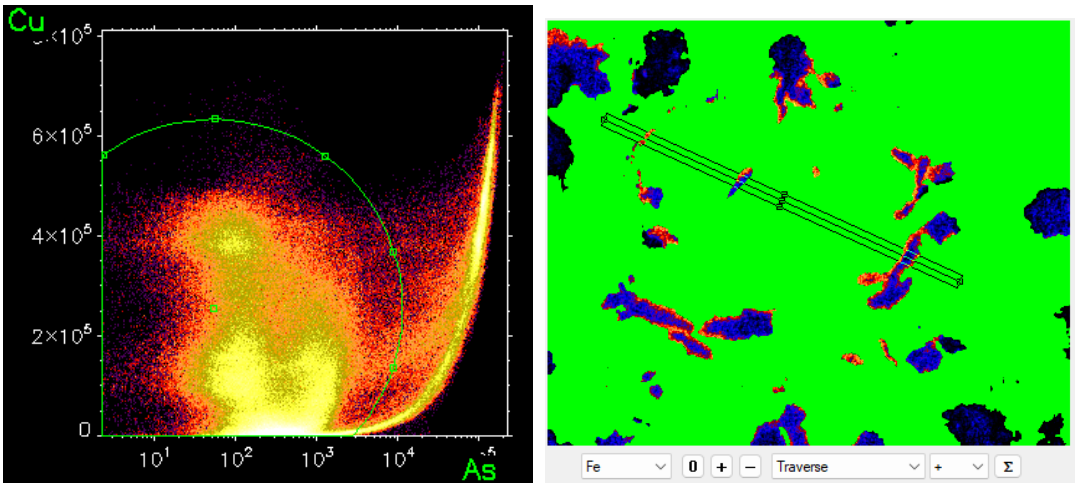

Now you can show a *Traverse* that skips those regions by using the new Image window menu "**Analyze->Further refine highlighted pixels within spline**", which just refines the green *Association* selected pixels constrained within the *Traverse* rectangle …

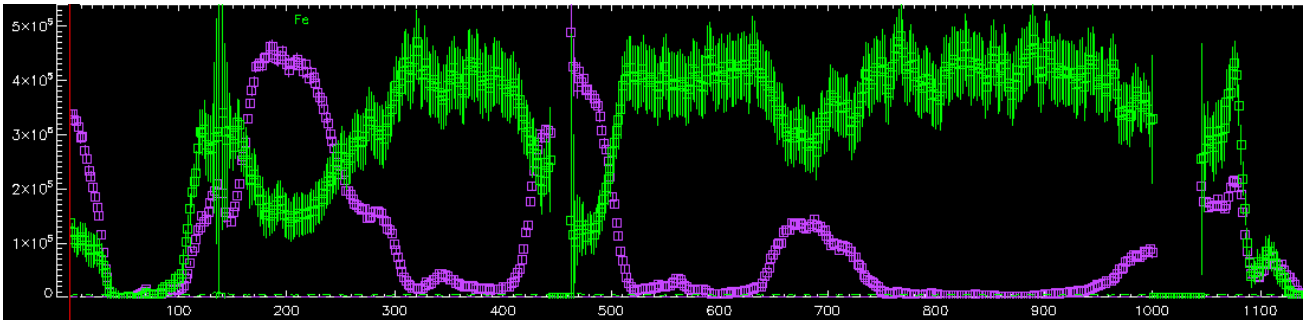

Fe (green), Cu (violet)

Version 8.9g

New Help windows

The "Help" menus on the *Image* and *Spectrum Display* windows have been updated to open embedded browser windows showing aspects of the GeoPIXE documentation, such as *GeoPIXE Overview*, the *GeoPIXE Manual*, *Maia detector* notes and the *GeoPIXE Worked Examples* and including the open source GeoPIXE *GitHub* link and links to the *Worked Examples data* on CSIRO DAP.

Window specific help

Small "?" buttons in the bottom-right corner of most windows will launch the new help browser for the *GeoPIXE Users Guide* and jump to the section for that window.

Version 8.9e

Magnify Zoom in the Image window

Holding down the *Middle Mouse* button (or zoom *scroll wheel*) will show a magnified view of the pixels near the cursor in the *Image* window. The zoom will always show magnified pixels regardless of the current 'zoom' level. Click, hold and drag to move the "magnifier" across the image.

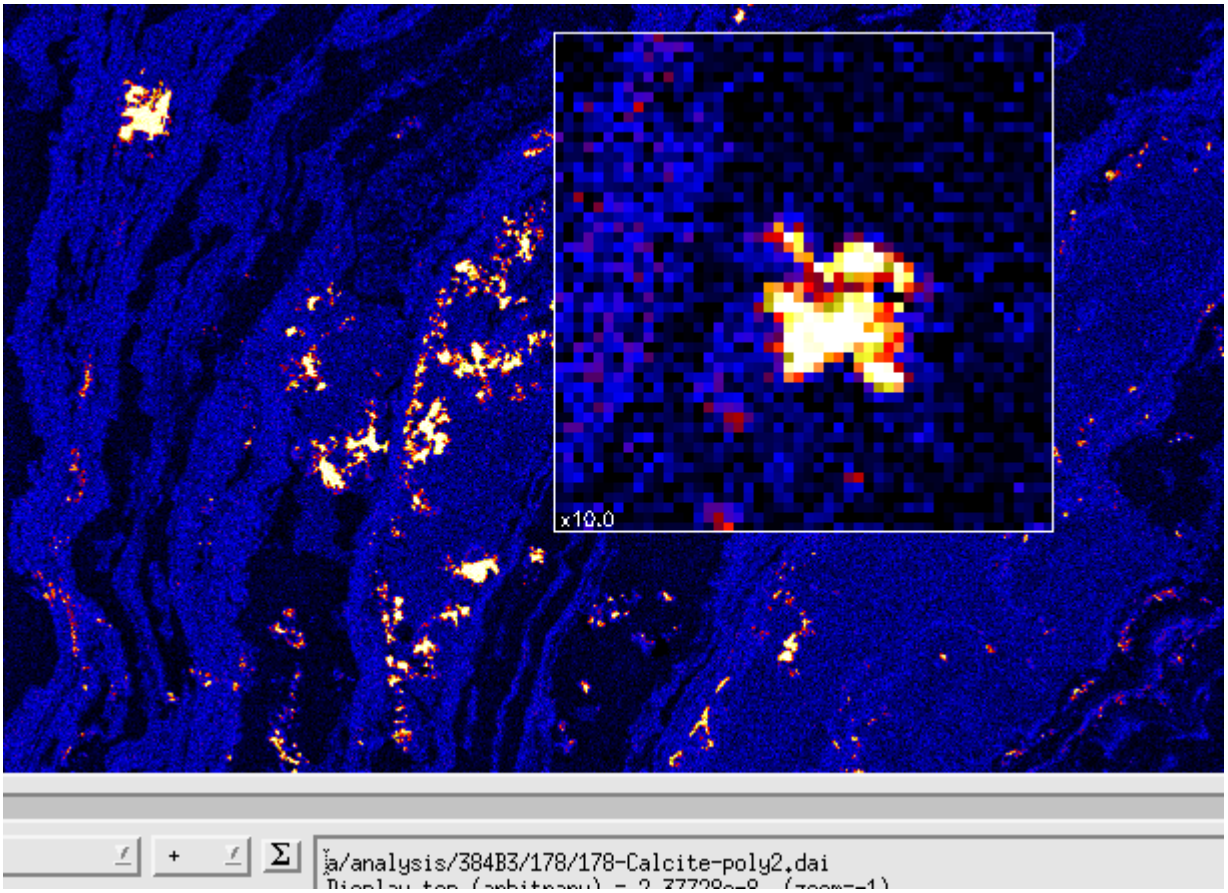

Version 8.9d

Detector Map

A new *Detector Map* window (see “Detector Map” on the “Windows” menu on the *Spectrum Display* window) can be used to show the count-rate (or element concentrations) variation across the Maia detector array (or any array detector). It processes spectral loaded into *Spectrum Display* for individual detector channels. You can load and select a DA matrix file, which is used to transform these spectra into element signals, detector by detector, using a selected array detector layout spec. The model variation in *Relative Sensitivity* across the array (rGamma) can be normalized out with the “rGamma norm” option.

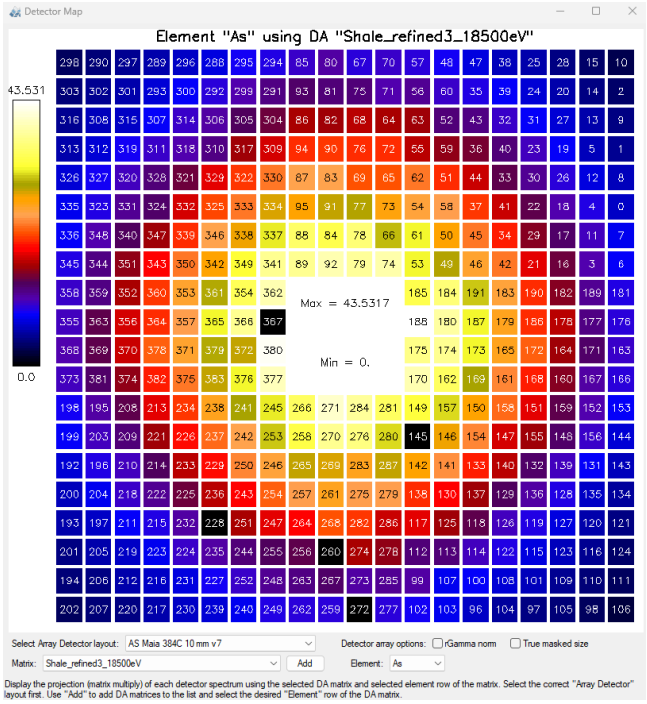

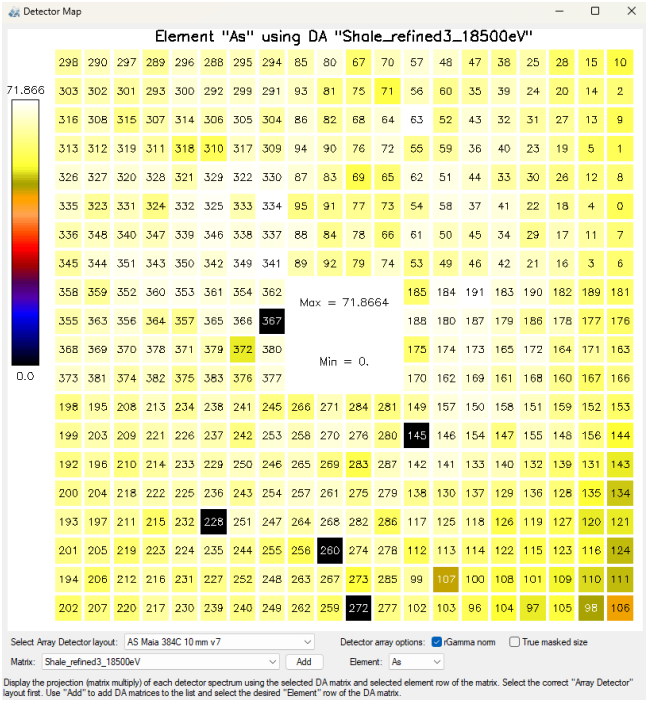

Colour Maps

Added colour tables for the “Inferno” and “Viridis” colour maps.

X,Y Histograms in Association

Added X and Y projection histograms to the *Association* window. Access using the tabs on the right side.

Batch Wizard

A new Wizard has been added as a more extendable replacement to *Batch Sort*.